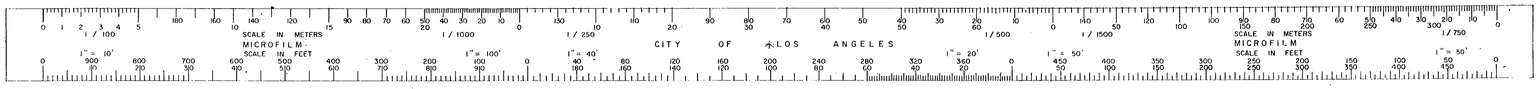

SEE PAGE 2 FOR SPPRR / BRT ROW STORM DRAIN
SEE PAGE 4 FOR OXNARD CULVERT

INDEX OF SHEETS
SH. 1 - TYP. SECT., KEY MAP, B.M., TITLE SHEET
SH. 2 - BESSEMER ST. & WOODMAN AVE.
SH. 3 - ALLEY W/o WOODMAN AVE., MAMMOTH AVE. & STORM DRAIN
SH. 4 - DETAIL OF CONC. CULVERT

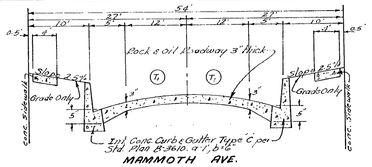

MAMMOTH AVE.

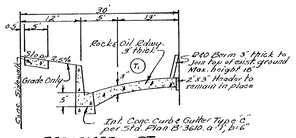

BESSEMER ST.

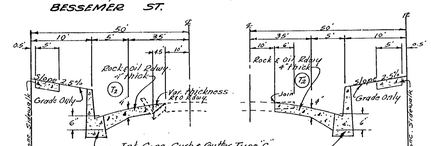

WOODMAN AVE.
Bessemer St. to Std. 21.22

WOODMAN AVE.
Std. 21.22 to Std. 3146.73

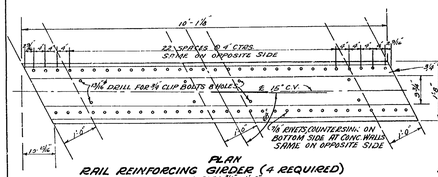

PLAN
RAIL REINFORCING GIRDER (4 REQUIRED)
SCALE: 3/4" = 1'-0"

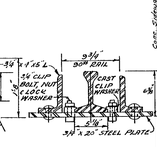

SECTION RAIL
REINFORCING GIRDER
SCALE: 1 1/2" = 1'-0"

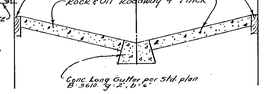

ALLEY

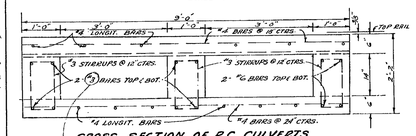

CROSS SECTION OF R.C. CULVERTS
SCALE: 3/4" = 1'-0"
6 per C.P.O. 31
11-21-54

CAST CLIP WASHER
HALF SIZE DETAIL
(32 REQUIRED)

B.M. - Std. Trav. Man. 10-L-21 & Int. Canard St. & Woodman Ave.
Elev. 689.009 C.F.B. 10-26-54
(1950 Adj.)

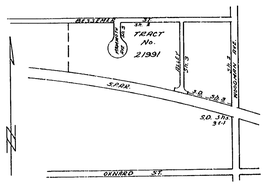

KEY MAP
No Scale

ALLEY WEST OF WOODMAN AVENUE
AND
FROM
BESSEMER STREET TO 292 FEET SOUTH OF BESSEMER STREET
AND
STORM DRAIN IN RIGHT OF WAY SOUTH OF BESSEMER STREET
FROM
WOODMAN AVENUE TO ALLEY WEST OF WOODMAN AVENUE

PLAN AND PROFILE
OF
WOODMAN AVENUE
FROM
BESSEMER STREET TO 346 FEET SOUTH OF BESSEMER STREET
AND
BESSEMER STREET
FROM
WOODMAN AVENUE TO 195 FEET WEST OF MAMMOTH AVENUE
AND
MAMMOTH AVENUE
FROM
BESSEMER STREET TO 161 FEET SOUTH OF BESSEMER STREET

CITY OF LOS ANGELES
LYALL A. PARDEE, CITY ENGINEER

DATUM NOTE
U. S. C. & G. DATUM EFFECTIVE JULY 1, 1925, ORDINANCE NO. 52222. DEDUCT 5.225 FEET TO ADJUST TO DATUM PLANE IN USE PRIOR TO SAID DATE.

REFERENCES
FIELD BOOK NO. ....Pub. Corp.....
DATE OF SURVEY....Pub. Corp.....
DISTRICT MAP NO. ....H.E.S.....O. W. MAP NO. .....
ASSESSMENT MAP NO. .....BW.....BW.....
SUPERSEDES PROFILE NO. P-11575 in part

NOTICE TO CONTRACTORS
THIS IMPROVEMENT ALSO INCLUDES WORK CALLED FOR ON THE FOLLOWING SPECIAL PLANS AND PROFILES

STREET IMP. PROFILES	NONE
SEWER PLANS	D-1232
STORM DRAIN PLANS	NONE
STRUCTURAL PLANS	NONE
ORNAMENTAL LIGHTING PLANS	NONE
EXISTING MANHOLES (TOTAL)	STORM DRAIN 0 SEWER 5

SPECIFICATIONS: ALL WORK DETAILED ON THIS PLAN SHALL BE CONSTRUCTED IN ACCORDANCE WITH SPECIFICATIONS No. 151, INCLUDING ALL AMENDMENTS THERETO WHICH WERE ADOPTED PRIOR TO THE DATE OF APPROVAL OF THESE PLANS, AND ALSO AS MODIFIED BY STANDARD PLANS No. S-3425.

Contractor shall do all grading necessary in connection with this improvement to provide suitable traffic connections with all intersecting streets and alleys, also provide for suitable outlets for drainage at the termination of this improvement.
Whenever both a street and alley is to be improved the contractor shall do all grading necessary in the other half thereof to leave the roadway in a safe convenient condition for traffic.

The private engineer shall set finish paving stakes in the field corresponding to all points indicated by elevations shown hereon, and at all other points necessary to insure accuracy in the construction of this improvement.

EXPANSION JOINTS IN SIDEWALKS: Details on Standard Plan No. D-6294.

ALL GUARD RAILS AND WARNING SIGNS TO BE REMOVED AND WHICH ARE NOT REQUIRED ELSEWHERE ON THIS PROJECT SHALL BE DELIVERED TO THE CITY MAINTENANCE YARD AT 5148 Sylmar Ave. N.H.

PAVING OF ROADWAY AREAS SHALL BE WITHHELD UNTIL CONTEMPLATED UTILITY CHANGES OR INSTALLATIONS HAVE BEEN MADE UNDER CITY PERMITS.

DRIVEWAYS SHALL BE CONSTRUCTED PER STANDARD PLAN D-6879 EXCEPT THAT THEY SHALL TERMINATE AT BACK EDGE OF SIDEWALK.

CURB RETURNS SHALL BE TYPE "C" WHERE GUTTER IS REQUIRED AND TYPE "A" IN ALL OTHER CASES.

DRIVEWAY DEPRESSIONS ARE NOT PERMITTED UNLESS CONCRETE DRIVEWAY APPROACHES ARE CONSTRUCTED

NOTICE TO CONTRACTORS CONTINUED

"THIS PROJECT REQUIRES THE INSTALLATION OF AN ESTIMATED 2 STREET NAME SIGN UNITS. THE CONTRACTOR SHALL MAKE ARRANGEMENTS WITH THE BUREAU OF STREET MAINTENANCE (MR-5211, STA. 429) WHEN COMPLETION OF CONSTRUCTION IS IMMINENT FOR THE PAYMENT AND INSTALLATION OF THE REQUIRED NUMBER OF SIGNS AT $35.00 PER UNIT.

"THE CONTRACTOR SHALL MAKE ARRANGEMENTS WITH THE DEPARTMENT OF TRAFFIC, ROOM 1000, OR CALL Mr. 5711 STA. 394, FOR THE PAYMENT AND INSTALLATION OF ALL SIGN POSTS, WARNING AND ASSISTANT STOP SIGNS OR THE RELOCATION OF BOULEVARD STOP SIGNS SHOWN HEREON."

SUMMARY OF WARNING, BOULEVARD STOP SIGNS AND WARNING RAILS TO BE INSTALLED IN ACCORDANCE WITH STANDARD PLAN D-1122.

CASE 1-A	UNITS	CASE 4-A	UNITS
CASE 1-B	UNITS	CASE 4-B	UNITS
CASE 2	UNITS	CASE 5	UNITS
CASE 3-A	UNITS	CASE 6	UNITS
CASE 3-B 1	UNITS		

RELOCATE BOULEVARD STOP SIGNS ..... UNITS C.P.O. #2
SIGHT POST STANDARD PLAN B-3616 2 UNITS* D-6-57

Construction, expansion, and contraction joints in concrete pavement, curb, and gutter shall be constructed in accordance with Standard Plans No. B-3610 and B-3611.

THE CONTRACTOR SHALL CONSTRUCT DRAINAGE FACILITIES (SHOWN) ~~(PLAN-No)~~ B-4 ..... OR PROVIDE TEMPORARY DRAINAGE SATISFACTORY TO THE ENGINEER, PRIOR TO PERFORMING ANY GRADING OR OTHER WORK SHOWN HEREON.

WORK ACCEPTED & COMPLETED	DATE	ORDER No.
CITY ENGINEER	10-7-61	
BD. OF PUBLIC WORKS		
STREET MAINTENANCE DIV.		
SEWER MAINT. DIV.		
CONSTRUCTION CHANGES RECORDED	12-29-61	By T.C.

CHECKED FOR:
DEDICATION
DRAINAGE 202.8 Brown 6-13-56
SUBSTRUCTURE
SEWER
REVIEWED

Plans prepared under the supervision
R.E. 2715

REVISIONS

1	12-13-56	Added stamp on sh. 2	R.H.	Stamp removed Lyall A. Pardee 12/13/56

APPROVALS		
DIVISION OR BUREAU	ENGINEER	DATE
STREET OPENING		
SURVEY & ROADWAY		
SANITARY SEWER		
STORM DRAIN		
BRIDGE DIVISION		
STREET LIGHTS		
WATER DEPARTMENT		
BUREAU OF WATER & POWER		

SUBMITTED July 11 1956
BY M. F. Craig
CHIEF CIVIL ENGINEER
R. E. Wilcox
ASSISTANT CHIEF CIVIL ENGINEER (DESIGN)
APPROVED July 16 1956
Lyall A. Pardee
CITY ENGINEER

SHEET NO. 1 OF 4 SHEETS

P-17462

BESSEMER ST. & WOODMAN AVE. I.D.
~~DES. PER. B-6879~~ CONST. B-7092

PLOTTED R.H. 12-14-56
DESIGNED R.H. 12-14-56
CHECKED
SUPERVISED
CHECKED
CHECKED

I certify that this image is a true and correct copy of a record of the City of Los Angeles filmed and processed to archival standards under my direction and control in accordance with Section 12.4 LAAC and Section 14090.5 of the California Government Code.
Date Microfilm Unit Supervisor, Bureau of Engineering

29X

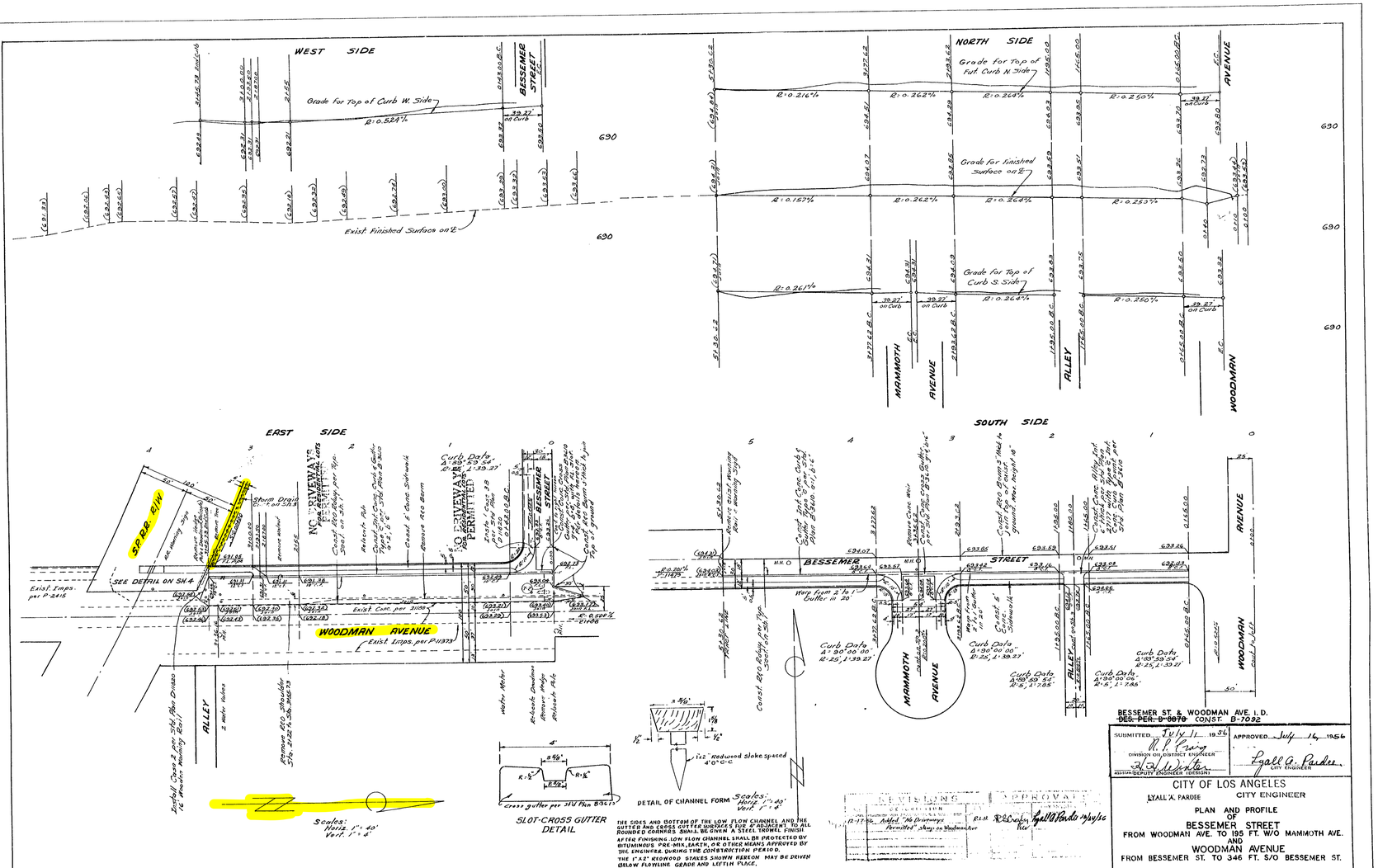
WEST SIDE
NORTH SIDE
EAST SIDE
SOUTH SIDE
BESSEMER STREET
MAMMOTH AVENUE
ALLEY
WOODMAN AVENUE
Grade for Top of Curb W. Side
Grade for Top of Full Curb N. Side
Grade for Finished Surface on ℄
Grade for Top of Curb S. Side
Exist. Finished Surface on ℄
SEE DETAIL ON SH. 4
Exist. Imps. per P-2415
Exist. Imps. per P-11979
Exist. Conc. per 31188
SP RR. R/W
NO DRIVEWAYS PERMITTED
Curb Data Δ 85°53'54" R: 25' L: 39.27'
Curb Data Δ 90°00'00" R: 25' L: 39.27'
Curb Data Δ 90°00'00" R: 25' L: 39.27'
Curb Data Δ 89°59'54" R: 25' L: 39.27'
Curb Data Δ 90°00'06" R: 25' L: 39.27'
Curb Data Δ 89°59'54" R: 25' L: 39.27'
Curb Data Δ 89°59'54" R: 25' L: 39.27'
Curb Data Δ 89°59'54" R: 25' L: 39.27'
Curb Data Δ 90°00'00" R: 25' L: 39.27'
Curb Data Δ 89°59'54" R: 25' L: 39.27'
Curb Data Δ 89°59'54" R: 25' L: 39.27'
Curb Data Δ 89°59'54" R: 25' L: 39.27'
Curb Data Δ 90°00'06" R: 25' L: 39.27'
Curb Data Δ 89°59'54" R: 25' L: 39.27'
Curb Data Δ 89°59'54" R: 25' L: 39.27'
Curb Data Δ 89°59'54" R: 25' L: 39.27'
Curb Data Δ 90°00'00" R: 25' L: 39.27'
Curb Data Δ 89°59'54" R: 25' L: 39.27'
Curb Data Δ 89°59'54" R: 25' L: 39.27'
Curb Data Δ 89°59'54" R: 25' L: 39.27'
Curb Data Δ 90°00'00

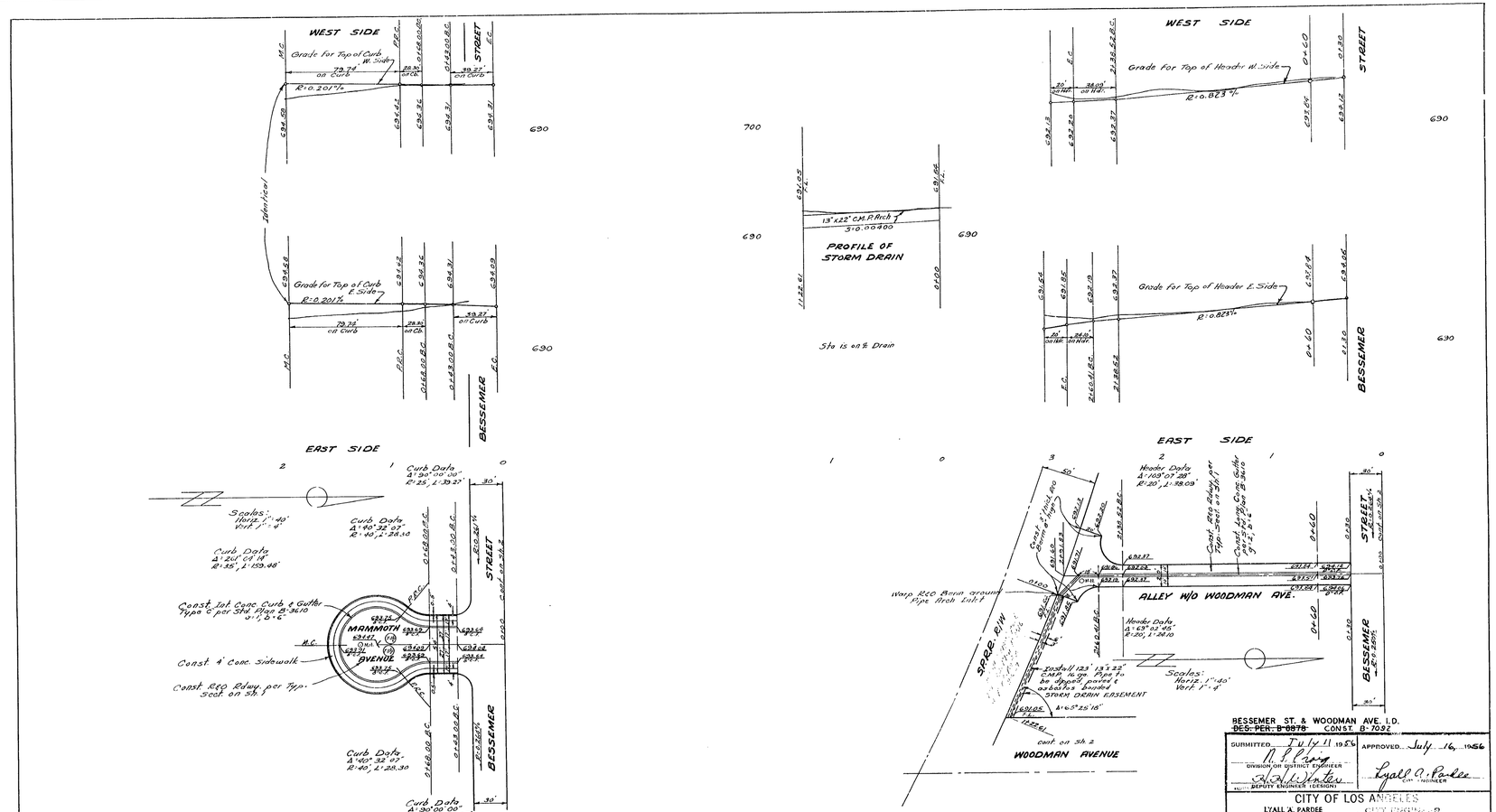

BESSEMER ST. & WOODMAN AVE. I.D.
~~DES. PER. B-0975~~ CONST. B-7052

SUBMITTED July 11 1956 — DIVISION OR DISTRICT ENGINEER — DEPUTY ENGINEER (DESIGN)	APPROVED July 16 1956 — CITY ENGINEER

CITY OF LOS ANGELES
LYALL A. PARDEE CITY ENGINEER

PLAN AND PROFILE OF
ALLEY W/O WOODMAN AVENUE
FROM BESSEMER ST. TO 292 FT. S/O BESSEMER ST.
AND
MAMMOTH AVENUE
FROM BESSEMER ST. TO 161 FT. S/O BESSEMER ST.
AND
STORM DRAIN IN R/W S/O BESSEMER STREET
FROM WOODMAN AVE. TO ALLEY W/O WOODMAN AVE.

SHEET NO. 3 OF 4 SHEETS | P-17462

I certify that this image is a true and correct copy of a record of the City of Los Angeles filmed and processed to archival standards under my direction and control in accordance with Section 12.4 LAAC and Section 34090.5 of the California Government Code.

Date — Microfilm Unit Supervisor, Bureau of Engineering

29X

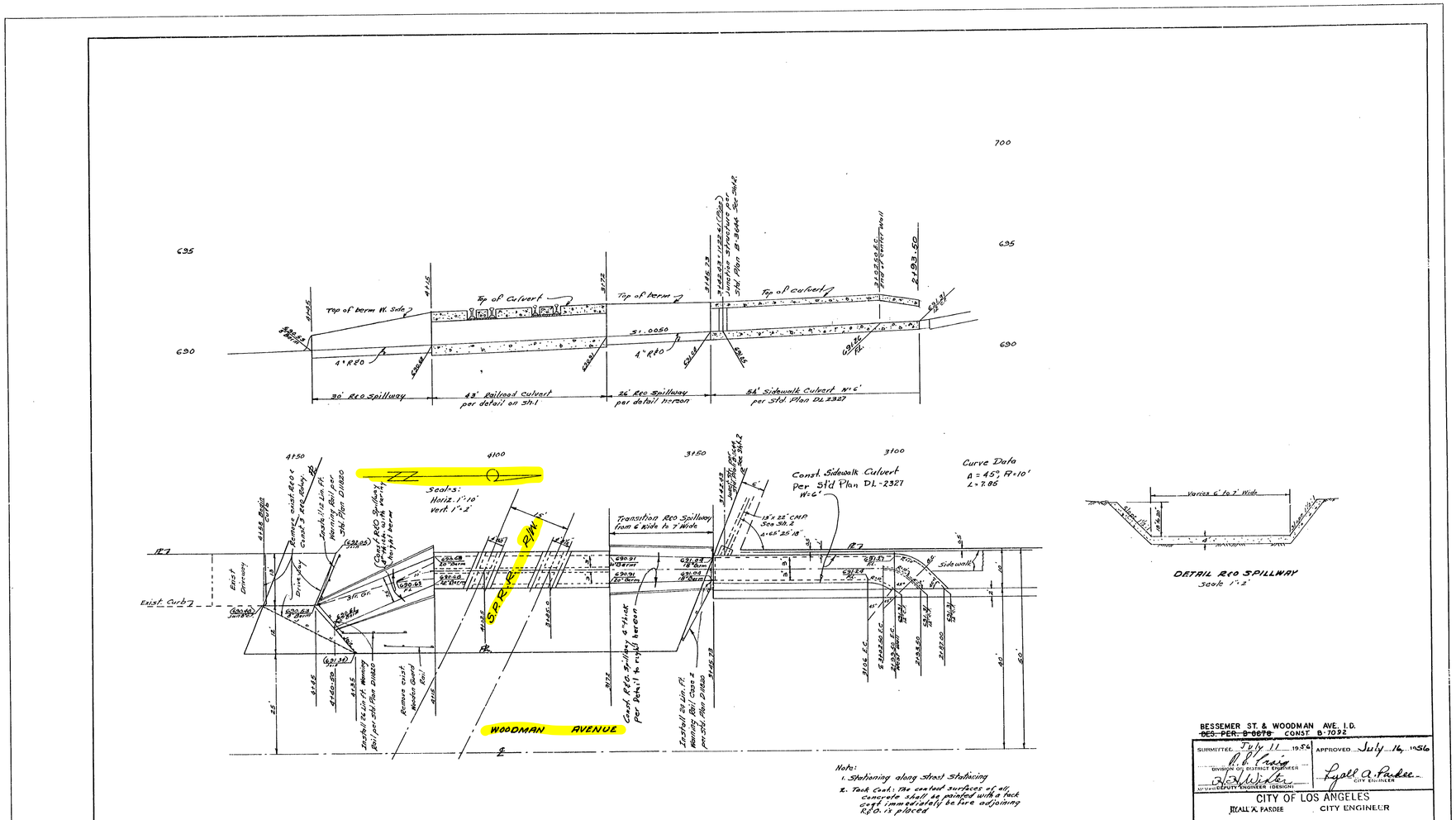

Note:
1. Stationing along street Stationing
2. Tack Coat: The contact surfaces of all concrete shall be painted with a tack coat immediately before adjoining R.C.C. is placed

BESSEMER ST. & WOODMAN AVE. I.D.
~~DES. PER. B-0678~~ CONST B-7092

SUBMITTED July 11 1956 — DIVISION OF DISTRICT ENGINEER
APPROVED July 16, 1956 — CITY ENGINEER
APPROVED — DEPUTY ENGINEER (DESIGN)

CITY OF LOS ANGELES
FRALL A. PARDEE CITY ENGINEER

DETAIL OF
CONCRETE CULVERT

SHEET NO. 4 OF 4 SHEETS | P-17462

I certify that this image is a true and correct copy of a record of the City of Los Angeles filed and processed to archival standards under my direction and control in accordance with Section 12.4 LAMC and Section 1950.5 of the California Government Code.

Date — Microfilm Unit Supervisor, Bureau of Engineering

29X